- WRITTEN DIMENSIONS ON THIS DRAWING SHALL HAVE PRECEDENCE OVER SCALED DIMENSIONS.
- DUE TO POTENTIAL ALTERING DURING THE PRINTING PROCESS, DO NOT SCALE DRAWINGS.
- CONTRACTOR SHALL VERIFY ALL DIMENSIONS AND CONDITIONS PRIOR TO PROCEEDING WITH CONSTRUCTION. ANY ALTERATION, REVISION OR SITE CONDITION WARRANTING A CHANGE TO THE PLANS MUST BE VERIFIED WITH MWJ HOMES AND THE PROJECT STRUCTURAL ENGINEER PRIOR TO THE START OF CONSTRUCTION OR CHANGE IN THE FIELD.
- ANY CONSTRUCTION TRADE WORKING ON THE PROJECT MUST HAVE KNOWLEDGE OF THE LOCAL AND NATIONAL CODES. MWJ HOMES IS NOT RESPONSIBLE FOR THE KNOWLEDGE OF TRADES PEOPLE THAT ARE NOT EMPLOYED BY MWJ HOMES.
- ANY ALTERATIONS TO THE PROJECT MADE WITHOUT PRIOR APPROVAL BY MWJ HOMES AND/OR THE PROJECT STRUCTURAL ENGINEER CAN/MAY/WILL RESULT IN PROJECT DELAYS AND THE CONTRACTOR SHALL ACCEPT FULL RESPONSIBILITY FOR THE COST AND TIME REQUIRED TO RECTIFY.

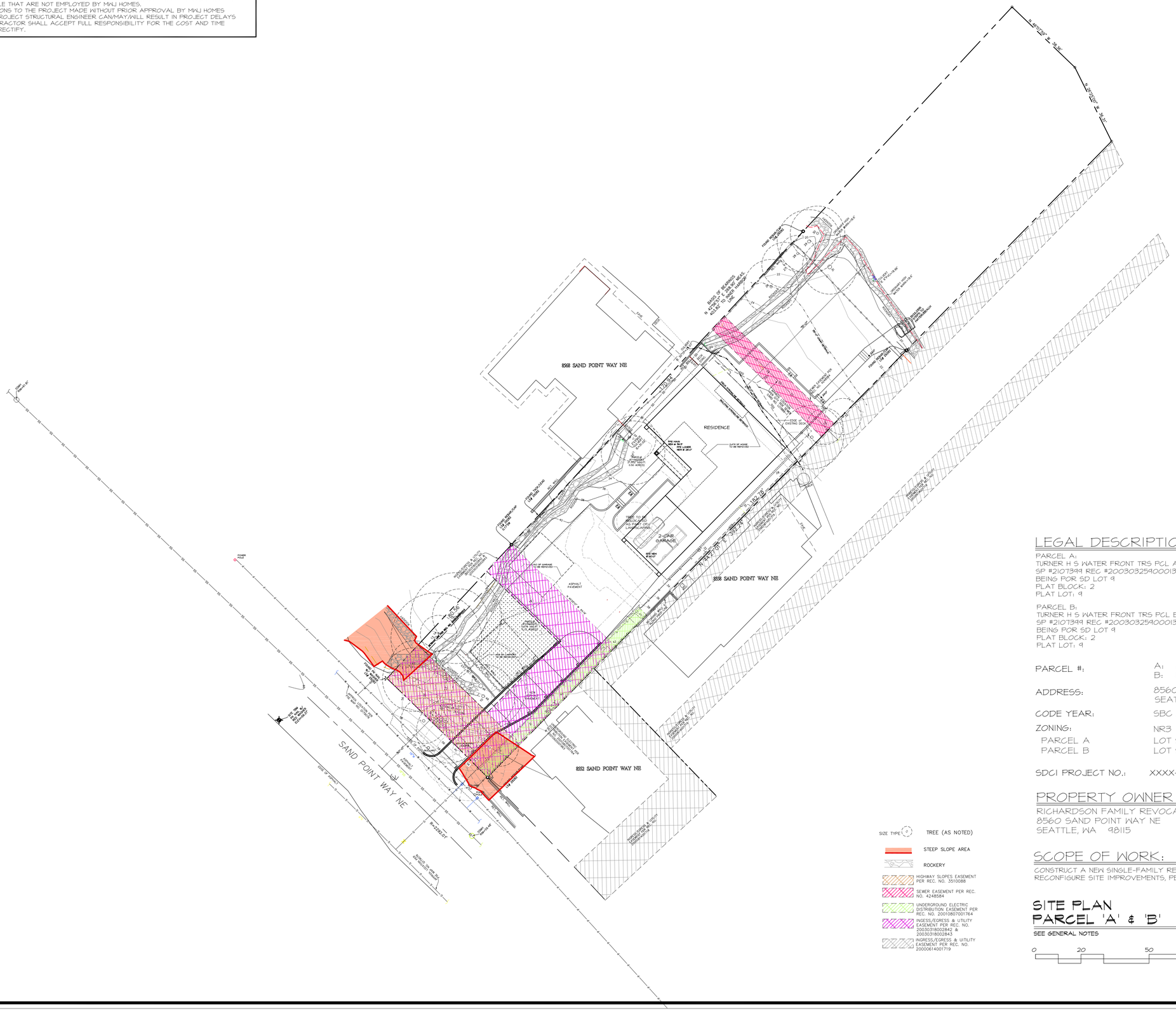

SIZE TYPE

TREE (AS NOTED)

STEEP SLOPE AREA

ROCKERY

HIGHWAY SLOPES EASEMENT PER REC. NO. 3510088

SEWER EASEMENT PER REC. NO. 4248584

UNDERGROUND ELECTRIC DISTRIBUTION EASEMENT PER REC. NO. 20010807001764

INGESS/EGRESS & UTILITY EASEMENT PER REC. NO. 20030318002842 & 20030318002843

INGRESS/EGRESS & UITILITY EASEMENT PER REC. NO. 20000614001719

LEGAL DESCRIPTION

PARCEL A:
TURNER H S WATER FRONT TRS PCL A SEATTLE
SP #2107399 REC #20030325900013 SD SP
BEING POR SD LOT 9
PLAT BLOCK: 2
PLAT LOT: 9

PARCEL B:
TURNER H S WATER FRONT TRS PCL B SEATTLE
SP #2107399 REC #20030325900013 SD SP
BEING POR SD LOT 9
PLAT BLOCK: 2
PLAT LOT: 9

PARCEL #:	A: 871560-0070 B: 871560-0063
ADDRESS:	8560 SAND POINT WAY NE SEATTLE, WA 98115
CODE YEAR:	SBC 2021; SRC 2021
ZONING:	NR3
PARCEL A	LOT SIZE = 5,075
PARCEL B	LOT SIZE = 21,931
SDCI PROJECT NO.:	XXXX-CN

PROPERTY OWNER

RICHARDSON FAMILY REVOCABLE TRUST
8560 SAND POINT WAY NE
SEATTLE, WA 98115

SCOPE OF WORK:

CONSTRUCT A NEW SINGLE-FAMILY RESIDENCE AND RECONFIGURE SITE IMPROVEMENTS, PER PLAN

SITE PLAN
PARCEL 'A' & 'B'

SEE GENERAL NOTES

SCALE: 1" = 20'-0"

0 20 50 100

2008 REGISTERED ARCHITECT
KAREN LAIRD MANGOLD
STATE OF WASHINGTON

19515 North Creek Parkway
Suite 314, Bothell, WA 98011
425.659.4834
www.mwjhomes.com
MWJ HOMES

RESIDENCE for:
DEREK & STEPHANIE
RICHARDSON
8560 SAND POINT WAY NE
SEATTLE, WA 98115

DATE:	02-04-26
REVISIONS:	00-00-00
DRAWN BY:	KLM
CHECKED BY:	MNJ

SHEET C1 OF C3

PROJECT: #25-109

ALL DRAWINGS AND DESIGNS ARE COPYRIGHTED BY MWJ HOMES, LLC AND ARE SUBJECT TO PROTECTION UNDER U.S. COPYRIGHT LAWS. ANY REPRODUCTION, DISTRIBUTION, OR RETRANSMISSION OF DESIGNS AND DRAWINGS IS STRICTLY FORBIDDEN.

- WRITTEN DIMENSIONS ON THIS DRAWING SHALL HAVE PRECEDENCE OVER SCALED DIMENSIONS.
- DUE TO POTENTIAL ALTERING DURING THE PRINTING PROCESS, DO NOT SCALE DRAWINGS.
- CONTRACTOR SHALL VERIFY ALL DIMENSIONS AND CONDITIONS PRIOR TO PROCEEDING WITH CONSTRUCTION. ANY ALTERATION, REVISION OR SITE CONDITION WARRANTING A CHANGE TO THE PLANS MUST BE VERIFIED WITH MWJ HOMES AND THE PROJECT STRUCTURAL ENGINEER PRIOR TO THE START OF CONSTRUCTION OR CHANGE IN THE FIELD.
- ANY CONSTRUCTION TRADE WORKING ON THE PROJECT MUST HAVE KNOWLEDGE OF THE LOCAL AND NATIONAL CODES. MWJ HOMES IS NOT RESPONSIBLE FOR THE KNOWLEDGE OF TRADES PEOPLE THAT ARE NOT EMPLOYED BY MWJ HOMES.
- ANY ALTERATIONS TO THE PROJECT MADE WITHOUT PRIOR APPROVAL BY MWJ HOMES AND/OR THE PROJECT STRUCTURAL ENGINEER CAN/MAY/WILL RESULT IN PROJECT DELAYS AND THE CONTRACTOR SHALL ACCEPT FULL RESPONSIBILITY FOR THE COST AND TIME REQUIRED TO RECTIFY.

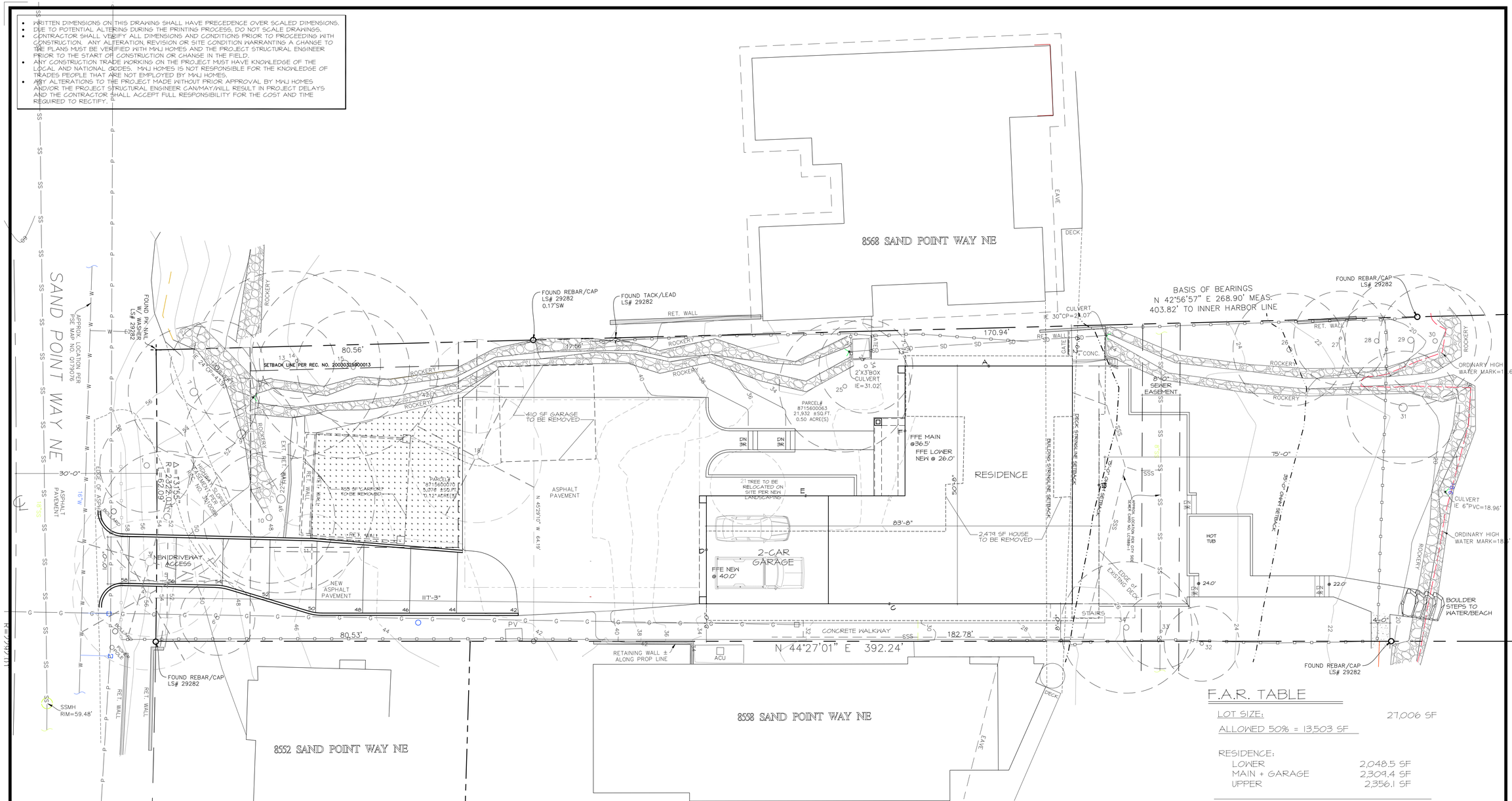

AVERAGE EXISTING GRADE HOUSE			
POINT	WALL LENGTH	ELEVATION	TOTAL
A	35.666'	33.5'	1194.81
B	50.666'	25.9'	1312.25'
C	78.0'	30.5'	2379
D	23.0'	34.0'	782
E	42.333'	36.6'	1464.72
F	27.666'	32.0'	885.31
TOTAL	257.328'		8018.09

TOTAL = 8018.09 / 257.328' = 31.1563
AVERAGE EXISTING GRADE = 31.1563'

HEIGHT CALCULATIONS HOUSE	
AVERAGE EXISTING GRADE =	31.1563'
MAXIMUM BUILDING HEIGHT ALLOWED =	30' (61.1563')
ACTUAL BUILDING HEIGHT =	29.4'

F.A.R. TABLE

LOT SIZE:	27,006 SF
ALLOWED 50% = 13,503 SF	
RESIDENCE:	
LOWER	2,048.5 SF
MAIN + GARAGE	2,309.4 SF
UPPER	2,356.1 SF
TOTAL	6,713.0 SF

6,713.0 / 27,006 = 25%

LOT COVERAGE BY STRUCTURE

MAXIMUM LOT COVERAGE:

LOT SIZE:	27,006 SF

ALLOWED LOT COVERAGE (35%) = 9,452.1 SF

RESIDENCE	2,224.3 SF
GARAGE	632.5 SF
FRONT CVRD. PORCH	82.5 SF
BACK CVRD. PATIO	287.1 SF
TOTAL #1	3,226.4 SF

LOT COVERAGE = 12%

SITE PLAN
PARCEL 'A' & 'B'

SEE GENERAL NOTES

SCALE: 1" = 20'-0"

0 20 50 100

2008 REGISTERED ARCHITECT
KAREN LAIRD MANGOLD
STATE OF WASHINGTON

19515 North Creek Parkway
Suite 314, Bothell, WA 98011
425.659.4834
www.mwjhomes.com
MWJ HOMES

RESIDENCE for:
DEREK & STEPHANIE RICHARDSON

8560 SAND POINT WAY NE
SEATTLE, WA 98115

DATE: 02-04-26
REVISIONS: 00-00-00

DRAWN BY: KLM
CHECKED BY: MWJ

SHEET C2 OF C3

PROJECT: #25-109

ALL DRAWINGS AND DESIGNS ARE COPYRIGHTED BY MANGOLD, LLC AND ARE SUBJECT TO PROTECTION UNDER U.S. COPYRIGHT LAWS. ALTERATIONS OF COPIES OF THESE DRAWINGS OR DESIGNS AND DRAWINGS IS STRICTLY FORBIDDEN.

- WRITTEN DIMENSIONS ON THIS DRAWING SHALL HAVE PRECEDENCE OVER SCALED DIMENSIONS.
- DUE TO POTENTIAL ALTERING DURING THE PRINTING PROCESS, DO NOT SCALE DRAWINGS.
- CONTRACTOR SHALL VERIFY ALL DIMENSIONS AND CONDITIONS PRIOR TO PROCEEDING WITH CONSTRUCTION. ANY ALTERATION, REVISION OR SITE CONDITION WARRANTING A CHANGE TO THE PLANS MUST BE VERIFIED WITH MWJ HOMES AND THE PROJECT STRUCTURAL ENGINEER PRIOR TO THE START OF CONSTRUCTION OR CHANGE IN THE FIELD.
- ANY CONSTRUCTION TRADE WORKING ON THE PROJECT MUST HAVE KNOWLEDGE OF THE LOCAL AND NATIONAL CODES. MWJ HOMES IS NOT RESPONSIBLE FOR THE KNOWLEDGE OF TRADES PEOPLE THAT ARE NOT EMPLOYED BY MWJ HOMES.
- ANY ALTERATIONS TO THE PROJECT MADE WITHOUT PRIOR APPROVAL BY MWJ HOMES AND/OR THE PROJECT STRUCTURAL ENGINEER CAN/MAY/WILL RESULT IN PROJECT DELAYS AND THE CONTRACTOR SHALL ACCEPT FULL RESPONSIBILITY FOR THE COST AND TIME REQUIRED TO RECTIFY.

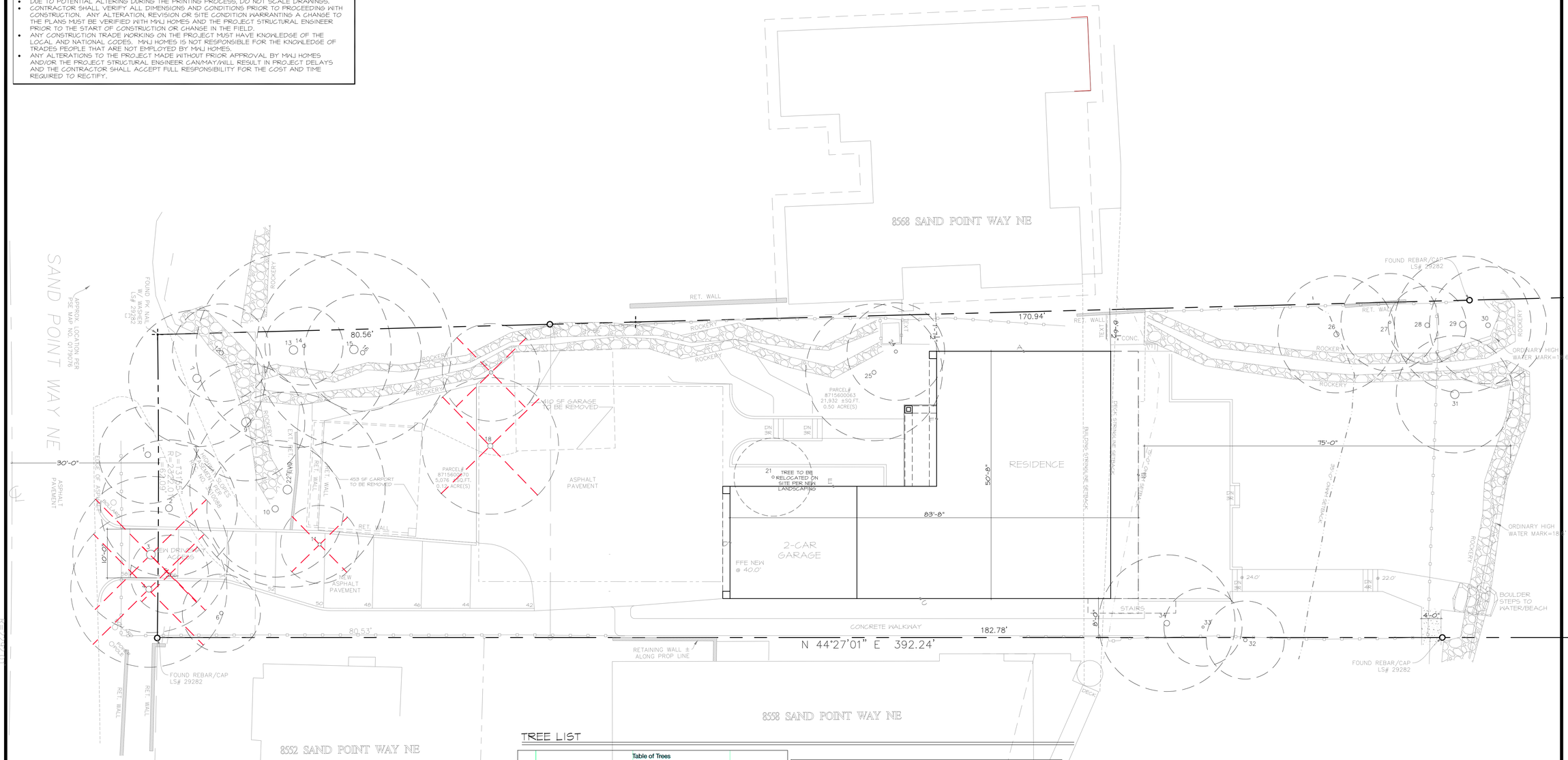

TREE LIST

Table of Trees

#	Common Name	Latin Name	DSH	Tier	Condition
1	Douglas Fir	Pseudotsuga menziesii	14"	3	Healthy/Vigorous
2	Grand Fir	Abies grandis	17"	3	Healthy/Vigorous/Dead top
3	Deodar Cedar	Cedrus deodora	22"	3	Healthy/Vigorous/suppressed/Trunk wound
4	Grand Fir	Abies grandis	15"	3	Healthy/Vigorous
5	Austrian Pine	Pinus nigra	7"	4	Suppressed/Lean
6	Mt. Ash	Sorbus aucuparia	9"	4	Healthy/Vigorous
7	Douglas Fir	Pseudotsuga menziesii	20"	3	Healthy/Vigorous
9	Austrian Pine	Pinus nigra	23"	3	Healthy/Vigorous
10	Austrian Pine	Pinus nigra	16"	3	Healthy/Vigorous
11	Blue Spruce	Picea pungens	8"	4	Healthy/Vigorous
12	Western Red Cedar	Thuja plicata	11"	4	Healthy/Vigorous
13	Western Red Cedar	Thuja plicata	21"	3	Healthy/Vigorous
14	Western Red Cedar	Thuja plicata	8"	4	Suppressed
15	Western Red Cedar	Thuja plicata	21"	3	Healthy/Vigorous
16	Grand Fir	Abies grandis	11"	4	Suppressed
17	Hinoki Cypress	Chamaecyparis obtusa	9"	4	Healthy/Vigorous
18	Flowering Pear	Pyrus sp.	13"	3	Pollarded
21	Japanese Maple	Acer palmatum	6"	4	Healthy/Vigorous
24	Austrian Pine	Pinus nigra	8"	4	Topped/Suppressed
25	Austrian Pine	Pinus nigra	10"	4	Suppressed
26	Blue Spruce	Picea pungens	13"	3	Healthy/Vigorous/Missing top
27	Shore Pine	Pinus contorta	6"	4	Topiary pruned
28	Paper Birch	Betula papyrifera	12"	3	Topiary pruned
29	Shore Pine	Pinus contorta	16"	3	Topiary pruned
30	Paper Birch	Betula papyrifera	12"	3	Topiary pruned
31	Paper Birch	Betula papyrifera	21"	3	Topiary pruned
32	Austrian Pine	Pinus nigra	9"	4	Topiary pruned
33	Blue Spruce	Picea pungens	6"	4	Topiary pruned
34	Austrian Pine	Pinus nigra	14"	3	Topiary pruned

TREE INFORMATION

TREE INVENTORY AS LISTED ON PLAN AND SURVEY PREPARED MARCH 3, 2025 BY ADVANCED ARBORICULTURAL ASSESSMENT CHRIS BERG.

TREE LEGEND

TREE TO BE RETAINED; NUMBER SHOWN RELATES TO TREE TABLE

TREE TO BE REMOVED

TREE PLAN

SEE GENERAL NOTES

SCALE: 1" = 20'-0"

0 20 50 100

2008 REGISTERED ARCHITECT
KAREN LAIRD MANGOLD
STATE OF WASHINGTON

19515 North Creek Parkway
Suite 314, Bothell, WA 98011
425.659.4834
www.mwjhomes.com

MWJ HOMES

RESIDENCE for:
DEREK & STEPHANIE RICHARDSON
8560 SAND POINT WAY NE
SEATTLE, WA 98115

DATE: 02-04-26
REVISIONS: 00-00-00

DRAWN BY: KLM
CHECKED BY: MNJ

SHEET C3 OF C3

PROJECT: #25-109

ALL DRAWINGS AND DESIGNS ARE COPYRIGHTED BY MWJ HOMES LLC AND ARE SUBJECT TO PROTECTION UNDER U.S. COPYRIGHT LAWS. ANY REPRODUCTION, DISTRIBUTION, OR RETRANSMISSION OF DESIGNS AND DRAWINGS IS STRICTLY FORBIDDEN.