TOPOGRAPHIC & BOUNDARY SURVEY

LEGAL DESCRIPTION

PARCELS A AND B OF SEATTLE SHORT SUBDIVISION NUMBER 2107399, RECORDED UNDER RECORDING NO. 20030325900013, IN KING COUNTY, WASHINGTON.

SITUATE IN THE CITY OF SEATTLE, COUNTY OF KING, STATE OF WASHINGTON.

BASIS OF BEARINGS

ACCEPTED THE BEARING OF N 42°56'57" E BETWEEN MONUMENTS FOUND ALONG THE NORTH PROPERTY LINE, PER R1.

REFERENCES

R1. RECORD OF SURVEY, VOL. 158, PG. 273–273A, RECORDS OF KING COUNTY, WASHINGTON.

VERTICAL DATUM

NAVD 88 PER CITY OF SEATTLE BENCHMARK NO. SNV–0239
DESCRIPTION: BRASS DISK
LOCATION: W END OF 15" WIDE CONC WALL AT S PROPERTY LINE TO HOUSE #8576 SAND POINT WAY NE, OPPOSITE FIRE HYDRANT. SAND POINT WAY NE & NE 85TH STREET
ELEVATION: 61.371'

SITE TEMP. BENCHMARK
DESCRIPTION: PK NAIL W/ RED WASHER
LOCATION: 91.8'W & 25.2'N FROM THE MOST SOUTHERLY PROP. COR.
ELEVATION: 59.4'

SURVEYOR'S NOTES

1. THE TOPOGRAPHIC SURVEY SHOWN HEREON WAS PERFORMED IN MARCH OF 2025, AND MAY OF 2025. THE FIELD DATA WAS COLLECTED AND RECORDED ON MAGNETIC MEDIA THROUGH AN ELECTRONIC THEODOLITE. THE DATA FILE IS ARCHIVED ON DISC OR CD. WRITTEN FIELD NOTES MAY NOT EXIST. CONTOURS ARE SHOWN FOR CONVENIENCE ONLY. DESIGN SHOULD RELY ON SPOT ELEVATIONS.
2. ALL MONUMENTS SHOWN HEREON WERE LOCATED DURING THE COURSE OF THIS SURVEY UNLESS OTHERWISE NOTED.
3. THE TYPES AND LOCATIONS OF ANY UTILITIES SHOWN ON THIS DRAWING ARE BASED ON INFORMATION PROVIDED TO US, BY OTHERS OR GENERAL INFORMATION READILY AVAILABLE IN THE PUBLIC DOMAIN INCLUDING, AS APPLICABLE, IDENTIFYING MARKINGS PLACED BY UTILITY LOCATE SERVICES AND OBSERVED BY TERRANE IN THE FIELD. AS SUCH, THE UTILITY INFORMATION SHOWN ON THESE DRAWINGS ARE FOR INFORMATIONAL PURPOSES ONLY AND SHOULD NOT BE RELIED ON FOR DESIGN OR CONSTRUCTION PURPOSES; TERRANE IS NOT RESPONSIBLE OR LIABLE FOR THE ACCURACY OR COMPLETENESS OF THIS UTILITY INFORMATION. FOR THE ACCURATE LOCATION AND TYPE OF UTILITIES NECESSARY FOR DESIGN AND CONSTRUCTION, PLEASE CONTACT THE SITE OWNER AND THE LOCAL UTILITY LOCATE SERVICE (800–424–5555).
4. SUBJECT PROPERTY TAX PARCEL NO. 8715600063 & 8715600070
5. SUBJECT PROPERTY AREA PER THIS SURVEY IS 27,008 S.F. (0.62 ACRES)
6. EXISTING STRUCTURE(S) LOCATION AND DIMENSIONS ARE MEASURED FROM THE FACE OF THE SIDING UNLESS OTHERWISE NOTED.
7. FIELD DATA FOR THIS SURVEY WAS OBTAINED BY DIRECT FIELD MEASUREMENTS WITH A CALIBRATED ELECTRONIC 3–SECOND TOTAL STATION AND/OR SURVEY GRADE GPS OBSERVATIONS. ALL ANGULAR AND LINEAR RELATIONSHIPS ARE ACCURATE AND MEET THE STANDARDS SET BY WAC 332–130–090.

VICINITY MAP

N.T.S.

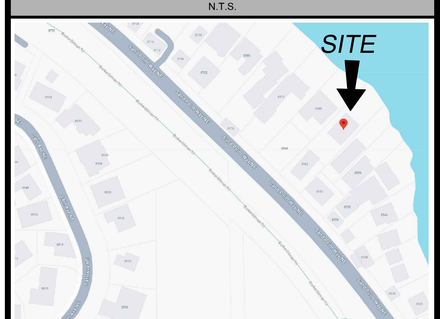

TITLE COMMITMENT NOTE

ALL TITLE INFORMATION SHOWN ON THIS MAP HAS BEEN EXTRACTED FROM WFG NATIONAL TITLE COMPANY'S "ALTA COMMITMENT", ORDER NO. 25–101176, DATED JANUARY 2, 2025. IN PREPARING THIS MAP, TERRANE, INC. HAS CONDUCTED NO INDEPENDENT TITLE SEARCH NOR IS TERRANE, INC. AWARE OF ANY TITLE ISSUES AFFECTING THE SURVEYED PROPERTY OTHER THAN THOSE SHOWN ON THE MAP AND DISCLOSED BY THE REFERENCED "SUBDIVISION GUARANTEE". TERRANE, INC. HAS RELIED WHOLLY ON WFG NATIONAL TITLE COMPANY'S REPRESENTATIONS OF THE TITLE'S CONDITION TO PREPARE THIS SURVEY AND TERRANE, INC. QUALIFIES THE MAP'S ACCURACY AND COMPLETENESS TO THAT EXTENT.

SCHEDULE B ITEMS

12–EASEMENT AND THE TERMS AND CONDITIONS THEREOF AFFECTING A PORTION OF SAID PREMISES, AS RECORDED UNDER 3510088 OF OFFICIAL RECORDS. IN FAVOR OF: STATE OF WASHINGTON
FOR: CONSTRUCTING AND MAINTAINING HIGHWAY SLOPES IN EXCAVATION AND/OR EMBANKMENT.
(PLOTTED)

13–EASEMENT AND THE TERMS AND CONDITIONS THEREOF AFFECTING A PORTION OF SAID PREMISES, AS RECORDED UNDER 4036515 OF OFFICIAL RECORDS.
FOR: A PERPETUAL RIGHT OF WAY
(NOTHING TO PLOT)

14–EASEMENT AND THE TERMS AND CONDITIONS THEREOF AFFECTING A PORTION OF SAID PREMISES, AS RECORDED UNDER 4248584 OF OFFICIAL RECORDS IN FAVOR OF: LAKE CITY SEWER DISTRICT, A MUNICIPAL CORPORATION
FOR: SEWER WITH NECESSARY APPURTENANCES
(PLOTTED)

15–RIGHT OF THE PUBLIC TO MAKE NECESSARY SLOPES FOR CUTS OR FILLS UPON THE LAND HEREIN DESCRIBED AS CONDEMNED IN KING COUNTY SUPERIOR COURT CAUSE 192376.
(DOCUMENT NOT PROVIDED)

16–EASEMENT AND THE TERMS AND CONDITIONS THEREOF AFFECTING A PORTION OF SAID PREMISES, AS RECORDED UNDER 7606290251 OF OFFICIAL RECORDS.
FOR: WATER LINE
(PLOTTED)

17–DOCK EASEMENT AND THE TERMS AND PROVISIONS THEREOF, RECORDED AS 9810090773,OF OFFICIAL RECORDS.
SAID EASEMENT BEING A RE–RECORD OF 9803200846
SAID INSTRUMENT WAS (MODIFIED, CORRECTED, OR AMENDED) BY INSTRUMENT RECORDED ON NOVEMBER 3, 1999, IN19991103001479, OF OFFICIAL RECORDS.
(FALLS OFF SITE, AS CONSTRUCTED)

18–DECLARATION OF RECIPROCAL, NON–EXCLUSIVE EASEMENTS AND THE TERMS AND PROVISIONS THEREOF, RECORDED AS 20000614001719, OF OFFICIAL RECORDS.
(PLOTTED)

19–AGREEMENT AND THE TERMS AND PROVISIONS THEREOF, RECORDED AS 20000614001720, OF OFFICIAL RECORDS.
(BLANKET IN NATURE)

20–EASEMENT AND THE TERMS AND CONDITIONS THEREOF AFFECTING A PORTION OF SAID PREMISES, AS RECORDED UNDER 20010807001764 OF OFFICIAL RECORDS.
IN FAVOR OF: CITY OF SEATTLE
FOR: UNDERGROUND ELECTRIC DISTRIBUTION FACILITIES
(PLOTTED)

21–EASEMENT AND THE TERMS AND CONDITIONS THEREOF AFFECTING A PORTION OF SAID PREMISES, AS RECORDED UNDER 20010920001963 OF OFFICIAL RECORDS.
IN FAVOR OF: PUGET SOUND ENERGY INC.
FOR: UTILITIES
(PLOTTED)

22–COVENANT AND THE TERMS AND CONDITIONS THEREOF, RECORDED ON MARCH 18, 2003, IN 20030318002842, OF OFFICIAL RECORDS.
(PLOTTED)

23–COVENANT AND THE TERMS AND CONDITIONS THEREOF, RECORDED ON MARCH 18, 2003, IN 20030318002843, OF OFFICIAL RECORDS.
(PLOTTED)

24–ALL MATTERS, INCLUDING THE TERMS AND PROVISIONS THEREOF, IF ANY, DISCLOSED BY THE SHORT SUBDIVISION NO. 2107399, RECORDED ON MARCH 25, 2003, IN 20030325900013, OF OFFICIAL RECORDS.
(SETBACK LINE PLOTTED)

25–FENCE LICENSE AGREEMENT AND THE TERMS AND CONDITIONS THEREOF, RECORDED AS 20050930004288, OF OFFICIAL RECORDS.
(BLANKET IN NATURE)

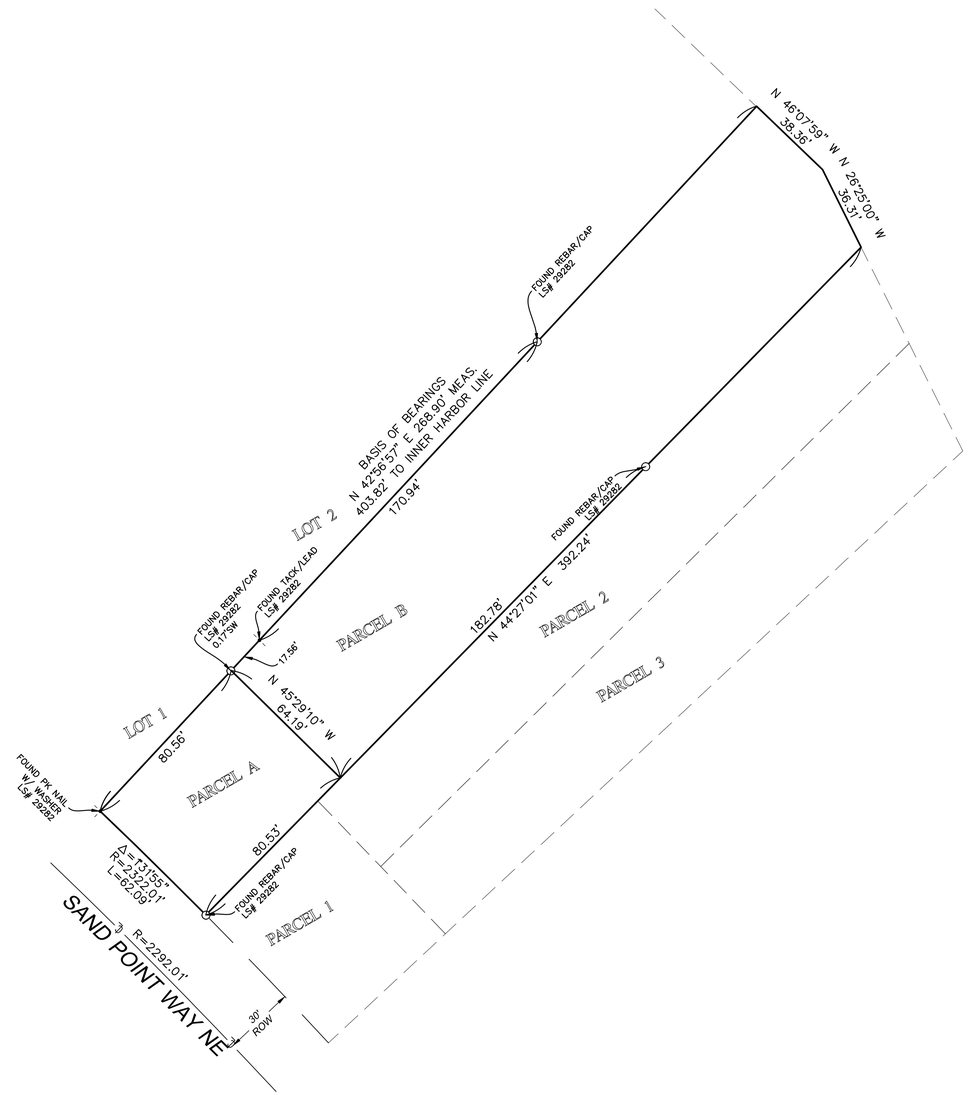

CONTROL MAP

N.T.S.

STEEP SLOPE/BUFFER DISCLAIMER:

THE LOCATION AND EXTENT OF STEEP SLOPES SHOWN ON THIS DRAWING ARE FOR INFORMATIONAL PURPOSES ONLY AND CANNOT BE RELIED ON FOR DESIGN AND/OR CONSTRUCTION. THE PITCH, LOCATION, AND EXTENT ARE BASED SOLELY ON OUR GENERAL OBSERVATIONS ON SITE AND OUR CURSORY REVIEW OF READILY AVAILABLE PUBLIC DOCUMENTS; AS SUCH, TERRANE CANNOT BE LIABLE OR RESPONSIBLE FOR THE ACCURACY OR COMPLETENESS OF ANY STEEP SLOPE INFORMATION. ULTIMATELY, THE LIMITS AND EXTENT OF ANY STEEP SLOPES ASSOCIATED WITH ANY SETBACKS OR OTHER DESIGN OR CONSTRUCTION PARAMETERS MUST BE DISCUSSED AND APPROVED BY THE REVIEWING AGENCY BEFORE ANY CONSTRUCTION CAN OCCUR.

INDEXING INFORMATION

NW 4	NE 4
SW 4	SE 4

SW 1/4 SW 1/4
SECTION: 35
TOWNSHIP: 26N
RANGE: 04E, W.M.
COUNTY: KING

LEGEND

- BENCHMARK
- BRASS DISC (FOUND)
- CENTERLINE ROW
- FENCE LINE (CHAIN LINK)
- FENCE LINE (IRON)
- FENCE LINE (WOOD)
- MONUMENT (IN CASE, FOUND)
- MONUMENT (SURFACE, FOUND)
- NAIL AS NOTED
- PROPERTY LINES (ADJACENT)
- PROPERTY LINE (SUBJECT)
- REBAR & CAP (SET)
- REBAR AS NOTED (FOUND)
- RETAINING WALL
- RIGHT–OF–WAY LINES
- BUILDING
- SIZE TYPE TREE (AS NOTED)
- ASPHALT SURFACE
- BRICK SURFACE
- CONCRETE SURFACE
- DECK
- ROCKERY
- STEEP SLOPE AREA
- WETLAND AREA
- WETLAND FLAG
- GAS METER
- GAS VALVE
- GAS LINE
- POWER METER
- POWER POLE
- POWER (OVERHEAD)
- CULVERT PIPE
- SEWER MANHOLE
- SEWER LINE
- WATER METER
- WATER LINE
- HIGHWAY SLOPES EASEMENT PER REC. NO. 3510088
- SEWER EASEMENT PER REC. NO. 4248584
- UNDERGROUND ELECTRIC DISTRIBUTION EASEMENT PER REC. NO. 20010807001764
- INGESS/EGRESS & UTILITY EASEMENT PER REC. NO. 20030318002842 & 20030318002843
- SEWER EASEMENT PER REC. NO. 20012001092001963
- INGRESS/EGRESS & UITILITY EASEMENT PER REC. NO. 20000614001719

We are the measure | terrane.net

TOPOGRAPHIC & BOUNDARY SURVEY
PARCEL NO. 8715600063 & 8715600070
8560 SAND POINT WAY NE
8560 SAND POINT WAY NORTHEAST
SEATTLE, WA 98115

TERRANE
11235 SE 6th St, Suite 130
Bellevue, WA 98004
p: 425-458-4488 | e: info@terrane.net

JOB NUMBER:	250252
DATE:	03/14/25
DRAFTED BY:	LSA
CHECKED BY:	JGM
SCALE:	N.T.S.

REVISION HISTORY

06/10/25	PER COMMENTS

SHEET NUMBER
1 OF 3

TOPOGRAPHIC & BOUNDARY SURVEY

INDEXING INFORMATION	
NW 1/4 NE 1/4 SW 1/4 SE 1/4	SW 1/4 SW 1/4
	SECTION: 35
	TOWNSHIP: 26N
	RANGE: 04E, W.M.
	COUNTY: KING

PER ARBOR REPORT
BY: ADVANCED ARBORICULTURAL ASSESSMENT
CHRIS BERG
ISA CERTIFIED ARBORIST AND RISK ASSESSOR
PN 1839A
LIC-TSP-18818
DATED:03/03/25

TREE INVENTORY

NUMBER	DIAMETER	TYPE/NAME
1	14" DBH	DOUGLAS FIR, PSEUDOTSUGA MENZIESII
2	17" DBH	GRAND FIR, ABIES GRANDIS
3	22" DBH	DEODAR CEDAR, CEDRUS DEODORA
4	15" DBH	GRAND FIR,ABIES GRANDIS
5	7" DBH	AUSTRIAN PINE, PINUS NIGRA
6	9" DBH	MT. ASH, SORBUS AUCUPARIA
7	20" DBH	DOUGLAS FIR, PSEUDOTSUGA MENZIESII
8	23" DBH	AUSTRIAN PINE, PINUS NIGRA
9	23" DBH	AUSTRIAN PINE, PINUS NIGRA
10	16" DBH	AUSTRIAN PINE, PINUS NIGRA
11	8" DBH	BLUE SPRUCE, PICEA PUNGENS
12	11" DBH	WESTERN RED CEDAR, THUJA PLICATA
13	21" DBH	WESTERN RED CEDAR, THUJA PLICATA
14	8" DBH	WESTERN RED CEDAR, THUJA PLICATA
15	21" DBH	WESTERN RED CEDAR, THUJA PLICATA
16	11" DBH	GRAND FIR,ABIES GRANDIS
17	9" DBH	HINOKI CYPRESS,CHAMAECYPARIS OBTUSA
18	13" DBH	FLOWERING PEAR, PYRUS SP.
19	7" DBH	BLUE SPRUCE, PICEA PUNGENS
20	13" DBH	GRAND FIR,ABIES GRANDIS
21	6" DBH	JAPANESE MAPLE, ACER PALMATUM
22	6" DBH	STYRAX, STYRAX JAPONICA
23	27" DBH	CORKSCREW WILLOW, SALIX MATSUDANA
24	8" DBH	AUSTRIAN PINE, PINUS NIGRA
25	10" DBH	AUSTRIAN PINE, PINUS NIGRA
26	13" DBH	BLUE SPRUCE, PICEA PUNGENS
27	6" DBH	SHORE PINE, PINUS CONTORTA
28	12" DBH	PAPER BIRCH, BETULA PAPYRIFERA
29	16" DBH	SHORE PINE, PINUS CONTORTA
30	12" DBH	PAPER BIRCH, BETULA PAPYRIFERA
31	21" DBH	PAPER BIRCH, BETULA PAPYRIFERA
32	9" DBH	AUSTRIAN PINE, PINUS NIGRA
33	6" DBH	BLUE SPRUCE, PICEA PUNGENS
34	14" DBH	AUSTRIAN PINE, PINUS NIGRA

LEGEND

- BENCHMARK
- BRASS DISC (FOUND)
- CENTERLINE ROW
- FENCE LINE (CHAIN LINK)
- FENCE LINE (IRON)
- FENCE LINE (WOOD)
- MONUMENT (IN CASE, FOUND)
- MONUMENT (SURFACE, FOUND)
- NAIL AS NOTED
- PROPERTY LINES (ADJACENT)
- PROPERTY LINE (SUBJECT)
- REBAR & CAP (SET)
- REBAR AS NOTED (FOUND)
- RETAINING WALL
- RIGHT-OF-WAY LINES
- BUILDING
- SIZE TYPE TREE (AS NOTED)
- ASPHALT SURFACE
- BRICK SURFACE
- CONCRETE SURFACE
- DECK
- ROCKERY
- STEEP SLOPE AREA
- WETLAND AREA
- WETLAND FLAG
- GAS METER
- GAS VALVE
- GAS LINE
- POWER METER
- POWER POLE
- POWER (OVERHEAD)
- CULVERT PIPE
- SEWER MANHOLE
- SEWER LINE
- WATER METER
- WATER LINE
- HIGHWAY SLOPES EASEMENT PER REC. NO. 3510088
- SEWER EASEMENT PER REC. NO. 4248584
- UNDERGROUND ELECTRIC DISTRIBUTION EASEMENT PER REC. NO. 20010807001764
- INGESS/EGRESS & UTILITY EASEMENT PER REC. NO. 20030318002842 & 20030318002843
- SEWER EASEMENT PER REC. NO. 20012001092001963
- INGRESS/EGRESS & UITILITY EASEMENT PER REC. NO. 20000614001719

10 0 5 10
(IN FEET)
1 INCH = 10 FT.

We are the measure | terrane.net

TOPOGRAPHIC & BOUNDARY SURVEY
PARCEL NO. 8715600063 & 8715600070

8560 SAND POINT WAY NE

8560 SAND POINT WAY NORTHEAST
SEATTLE, WA 98115

GOODMAN MILLER
STATE OF WASHINGTON
LAND SURVEYOR
PROFESSIONAL SEAL
06/10/25

TERRANE
11235 SE 6th St, Suite 130
Bellevue, WA 98004
p: 425-458-4488 | e: info@terrane.net

JOB NUMBER:	250252
DATE:	03/14/25
DRAFTED BY:	LSA
CHECKED BY:	JGM
SCALE:	1"= 10'

REVISION HISTORY	
06/10/25	PER COMMENTS

SHEET NUMBER
2 OF 3

TOPOGRAPHIC & BOUNDARY SURVEY

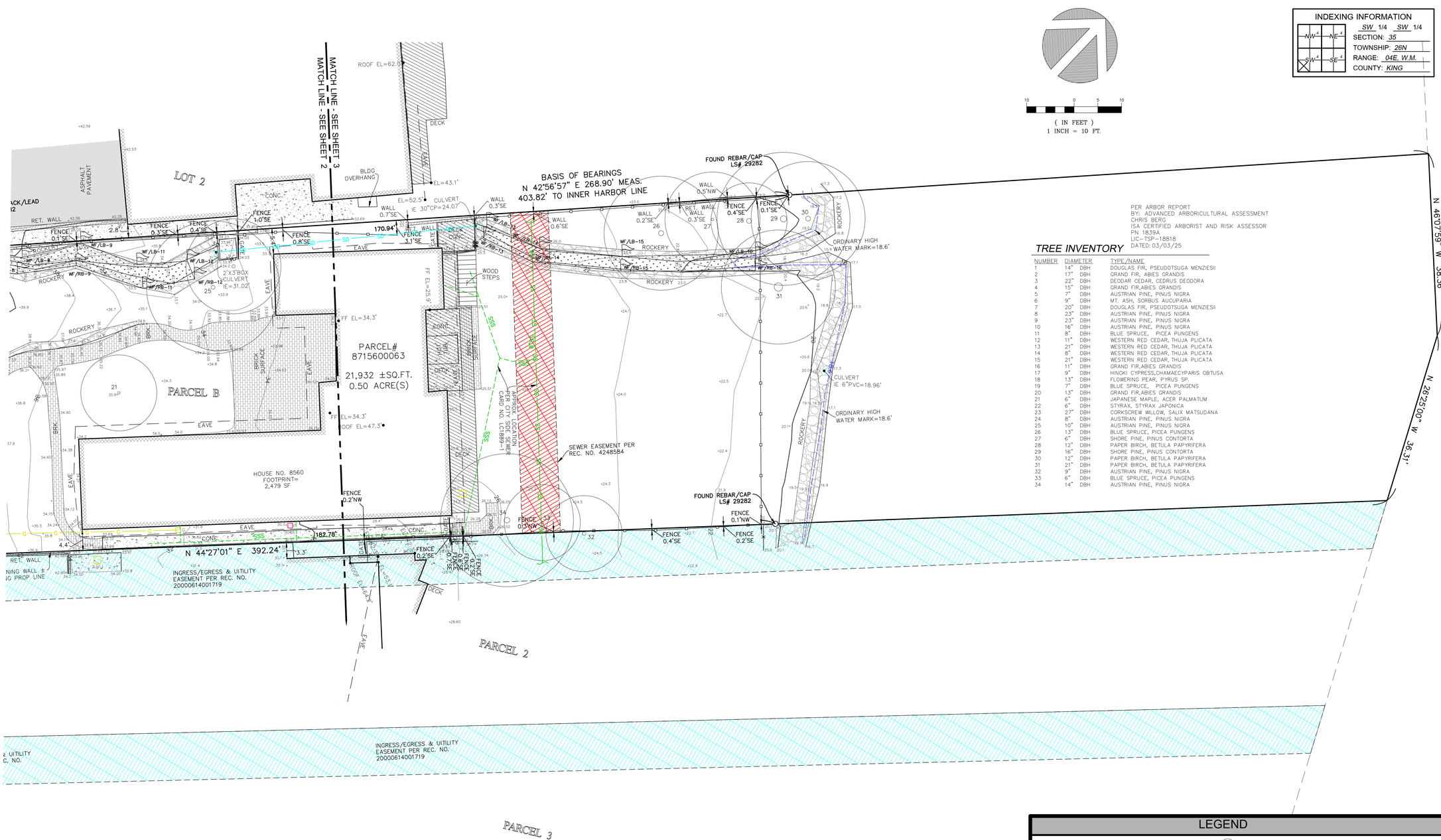

(IN FEET)
1 INCH = 10 FT.

INDEXING INFORMATION

SW 1/4 SW 1/4
SECTION: 35
TOWNSHIP: 26N
RANGE: 04E, W.M.
COUNTY: KING

PER ARBOR REPORT
BY: ADVANCED ARBORICULTURAL ASSESSMENT
CHRIS BERG
ISA CERTIFIED ARBORIST AND RISK ASSESSOR
PN 1839A
LIC-TSP-18818
DATED:03/03/25

TREE INVENTORY

NUMBER	DIAMETER	TYPE/NAME
1	14" DBH	DOUGLAS FIR, PSEUDOTSUGA MENZIESII
2	17" DBH	GRAND FIR, ABIES GRANDIS
3	22" DBH	DEODAR CEDAR, CEDRUS DEODORA
4	15" DBH	GRAND FIR,ABIES GRANDIS
5	7" DBH	AUSTRIAN PINE, PINUS NIGRA
6	9" DBH	MT. ASH, SORBUS AUCUPARIA
7	20" DBH	DOUGLAS FIR, PSEUDOTSUGA MENZIESII
8	23" DBH	AUSTRIAN PINE, PINUS NIGRA
9	23" DBH	AUSTRIAN PINE, PINUS NIGRA
10	16" DBH	AUSTRIAN PINE, PINUS NIGRA
11	8" DBH	BLUE SPRUCE, PICEA PUNGENS
12	11" DBH	WESTERN RED CEDAR, THUJA PLICATA
13	21" DBH	WESTERN RED CEDAR, THUJA PLICATA
14	8" DBH	WESTERN RED CEDAR, THUJA PLICATA
15	21" DBH	WESTERN RED CEDAR, THUJA PLICATA
16	11" DBH	GRAND FIR,ABIES GRANDIS
17	9" DBH	HINOKI CYPRESS,CHAMAECYPARIS OBTUSA
18	13" DBH	FLOWERING PEAR, PYRUS SP.
19	7" DBH	BLUE SPRUCE, PICEA PUNGENS
20	13" DBH	GRAND FIR,ABIES GRANDIS
21	6" DBH	JAPANESE MAPLE, ACER PALMATUM
22	6" DBH	STYRAX, STYRAX JAPONICA
23	27" DBH	CORKSCREW WILLOW, SALIX MATSUDANA
24	8" DBH	AUSTRIAN PINE, PINUS NIGRA
25	10" DBH	AUSTRIAN PINE, PINUS NIGRA
26	13" DBH	BLUE SPRUCE, PICEA PUNGENS
27	6" DBH	SHORE PINE, PINUS CONTORTA
28	12" DBH	PAPER BIRCH, BETULA PAPYRIFERA
29	16" DBH	SHORE PINE, PINUS CONTORTA
30	12" DBH	PAPER BIRCH, BETULA PAPYRIFERA
31	21" DBH	PAPER BIRCH, BETULA PAPYRIFERA
32	9" DBH	AUSTRIAN PINE, PINUS NIGRA
33	6" DBH	BLUE SPRUCE, PICEA PUNGENS
34	14" DBH	AUSTRIAN PINE, PINUS NIGRA

LEGEND

BENCHMARK
BRASS DISC (FOUND)
CENTERLINE ROW
FENCE LINE (CHAIN LINK)
FENCE LINE (IRON)
FENCE LINE (WOOD)
MONUMENT (IN CASE, FOUND)
MONUMENT (SURFACE, FOUND)
NAIL AS NOTED
PROPERTY LINES (ADJACENT)
PROPERTY LINE (SUBJECT)
REBAR & CAP (SET)
REBAR AS NOTED (FOUND)
RETAINING WALL
RIGHT-OF-WAY LINES
BUILDING
SIZE TYPE TREE (AS NOTED)
ASPHALT SURFACE
BRICK SURFACE
CONCRETE SURFACE
DECK
ROCKERY
STEEP SLOPE AREA
WETLAND AREA
WETLAND FLAG
GAS METER
GAS VALVE
GAS LINE
POWER METER
POWER POLE
POWER (OVERHEAD)
CULVERT PIPE
SEWER MANHOLE
SEWER LINE
WATER METER
WATER LINE
HIGHWAY SLOPES EASEMENT PER REC. NO. 3510088
SEWER EASEMENT PER REC. NO. 4248584
UNDERGROUND ELECTRIC DISTRIBUTION EASEMENT PER REC. NO. 20010807001764
INGESS/EGRESS & UTILITY EASEMENT PER REC. NO. 20030318002842 & 20030318002843
SEWER EASEMENT PER REC. NO. 20012001092001963
INGRESS/EGRESS & UITILITY EASEMENT PER REC. NO. 20000614001719

STEEP SLOPE/BUFFER DISCLAIMER:

THE LOCATION AND EXTENT OF STEEP SLOPES SHOWN ON THIS DRAWING ARE FOR INFORMATIONAL PURPOSES ONLY AND CANNOT BE RELIED ON FOR DESIGN AND/OR CONSTRUCTION. THE PITCH, LOCATION, AND EXTENT ARE BASED SOLELY ON OUR GENERAL OBSERVATIONS ON SITE AND OUR CURSORY REVIEW OF READILY AVAILABLE PUBLIC DOCUMENTS; AS SUCH, TERRANE CANNOT BE LIABLE OR RESPONSIBLE FOR THE ACCURACY OR COMPLETENESS OF ANY STEEP SLOPE INFORMATION. ULTIMATELY, THE LIMITS AND EXTENT OF ANY STEEP SLOPES ASSOCIATED WITH ANY SETBACKS OR OTHER DESIGN OR CONSTRUCTION PARAMETERS MUST BE DISCUSSED AND APPROVED BY THE REVIEWING AGENCY BEFORE ANY CONSTRUCTION CAN OCCUR.

We are the measure | terrane.net

TOPOGRAPHIC & BOUNDARY SURVEY
PARCEL NO. 8715600063 & 8715600070

8560 SAND POINT WAY NE
8560 SAND POINT WAY NORTHEAST
SEATTLE, WA 98115

06/10/25

TERRANE
11235 SE 6th St, Suite 130
Bellevue, WA 98004
p: 425-458-4488 | e: info@terrane.net

JOB NUMBER:	250252
DATE:	03/14/25
DRAFTED BY:	LSA
CHECKED BY:	JGM
SCALE:	1"= 10'
REVISION HISTORY	
06/10/25	PER COMMENTS
SHEET NUMBER	
3 OF 3	